002BDP252611629 002BP25261000

Application No. : Development Permission No. :

Project Title : PROPOSED BUILDING PLAN FOR RESI CUM COTTAGE COTTAGE INDUSTRY (NOT FOR TEXTILE INDUSTRY) PURPOSE ON T.P.S.NO. :- 52 (SANIYA HEMAD-KOSMADA-CHHEDCHHA) , BLOCK NO.:- 80/B, O.P. NO.:-21/B, F.P. NO.:-21/B PAIKEE PLOT NO - 10, MOJE :- SANIYA HEMAD, TA:-CHORYASI, DIST:- SURAT

Inward No	OOPS/2026/018707	Sheet	1 / 1
Inward Date		Scale	1:100

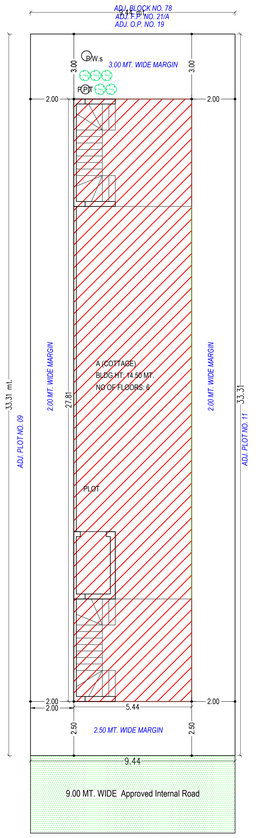

SITE PLAN
(Scale - 1:100)

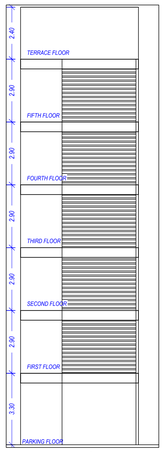

ELEVATION

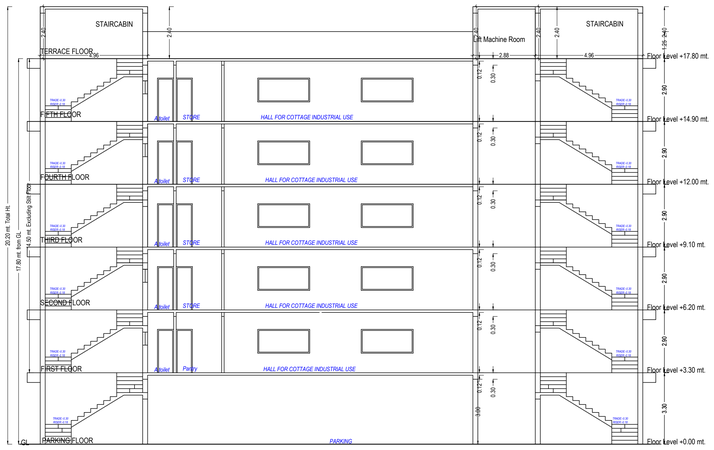

Section

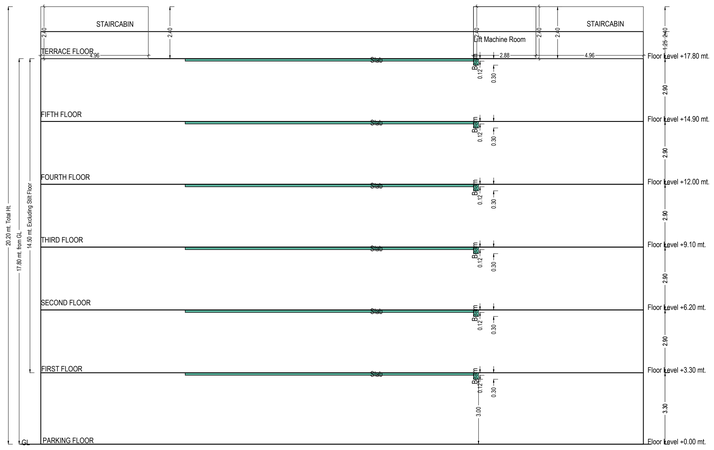

Section

Sectional Diagram

-: Percolating Well Calculation:-

1 Percolating well / 4000.00 sq.mt.
Plot Area : 314.47/4000.00 sq mt.
Require Percolating Well = 0.07
Provide Percolating Well = 01

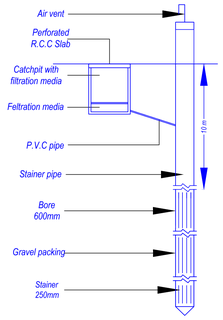

PERCOLATING WELL

A	AREA STATEMENT	VERSION NO.: 1.0.76	
		VERSION DATE: 07/01/2026	
	PROJECT DETAIL:		
	Authority: Surat Municipal Corporation (SMC)	Plot Use: Residential	
	Authority:Class: D1	Plot SubUse: Cottage Industry	
	Authority:Grade: Municipal Corporation	Plot Use Group: Dwelling-2 (DW2)	
	Project Type: Building Permission	Plot Category: NA	
	Nature of Development: NEW	Land Use Zone: Residential use Zone	
	Development Area: Draft/Preliminary Town Planning Scheme	Conceptualized Use Zone: R1	
	SubDevelopment Area: Other Areas		
	Special Project: NA		
	Special Road: NA		
	Site Address: T.P.S.NO. :- 52 (SANIYA HEMAD-KOSMADA-CHHEDCHHA) , BLOCK NO.:- 80/B, O.P. NO.:-21/B, F.P. NO.:-21/B PAIKEE PLOT NO - 10, MOJE :- SANIYA HEMAD, TA:-CHORYASI, DIST:- SURAT		
	AREA DETAILS :		Sq.Mts.
1.	Area of Plot As per record		-
	Plot Validation Certificate		314.47
	Physical area measured at site		314.47
	7/12 or Document		314.47
	Plot area drawn as per Site		314.47
	Area of Plot Considered		314.47
2.	Deduction for		
	(a)Proposed roads		0.00
	(b)Any reservations		0.00
	Total(a + b)		0.00
3.	Net Area of plot (1 - 2) AREA OF PLOT		314.47
4.	% of Common Plot (Reqd.)		0.00
	% of Common Plot (Prop)		0.00
	Balance area of Plot(1 - 4)		314.47
	Plot Area For Coverage		314.47
	Plot Area For FSI		314.47
	Perm. FSI Area (1.80)		566.05
	Total Perm. FSI area		566.05
6.	Total Built up area permissible at:		
	a. Ground Floor		0.00
	Proposed Coverage Area (48.11 %)		151.30
	Total Prop. Coverage Area (48.11 %)		151.30
	Balance coverage area (- %)		0.00

Proposed Area at:				
-	Proposed Built up	Existing/ Approved BUArea	Proposed F.S.I	Existing/ Approved F.S.I
Parking Floor	151.30	0.00	0.00	0.00
First Floor	151.30	0.00	83.25	0.00
Second Floor	151.30	0.00	83.25	0.00
Third Floor	151.30	0.00	83.25	0.00
Fourth Floor	151.30	0.00	83.25	0.00
Fifth Floor	151.30	0.00	83.25	0.00
Terrace Floor	58.68	0.00	0.00	0.00
Total Area:	966.48	0.00	416.25	0.00
Total FSI Area:				416.24
Total BuiltUp Area:				966.49
Proposed F.S.I. consumed:				1.32

B.	Tenement Statement	
1.	Tenement Proposed At:	
	All Floors	1.00
2.	Total Tenements (3 + 4)	1
C.	Parking Statement	
1.	Parking Space Required as per Regulations:	13.75
2.	Proposed Parking Space:	90.90

Color Notes

COLOR INDEX
PLOT LINES
EXISTING STREET
FUTURE STREET, IF ANY
PERMISSIBLE BUILDING LINE
OPEN SPACES
EXISTING WORKS
WORK PROPOSED TO BE DEMOLISHED
PROPOSED WORK
DRIANAGE AND SEWERAGE WORK
WATER SUPPLY WORK
WORK WITHOUT PERMISSION IF STARTED ON SITE
APPROVED WORK

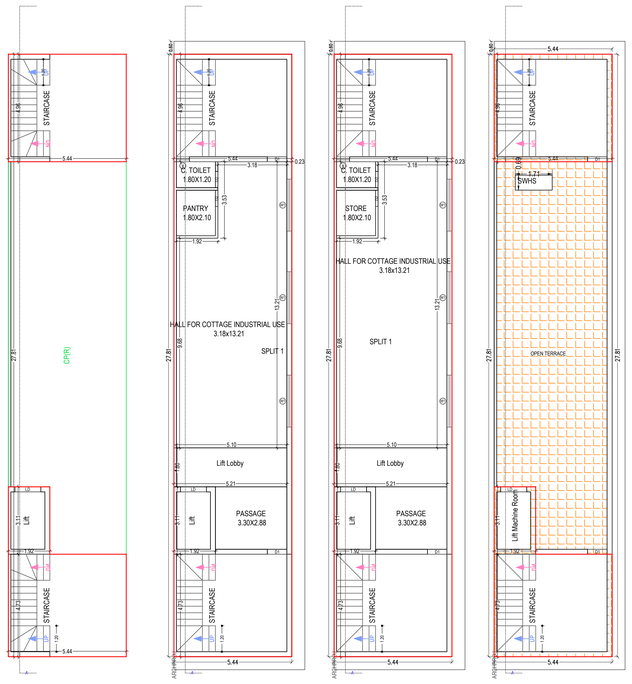

PARKING FLOOR PLAN
(SCALE 1:100)

FIRST FLOOR PLAN
(Proposed)
(SCALE 1:100)

TYPICAL - SECOND, 3, 4, 5 FLOOR PLAN
(Proposed)
(SCALE 1:100)

TERRACE FLOOR PLAN
(SCALE 1:100)

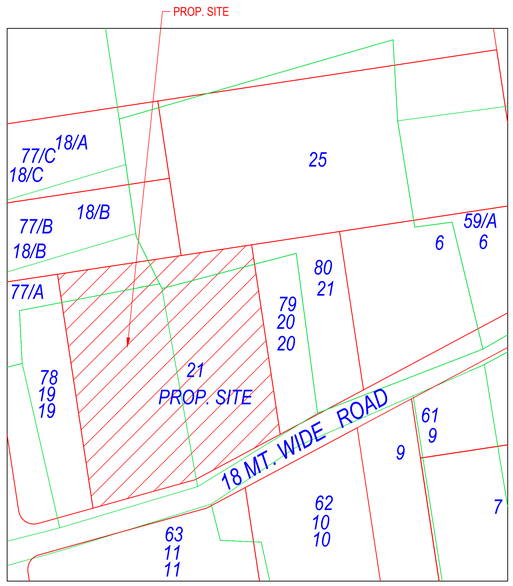

KEY PLAN (AS PER DRAFT)
SCALE 1 CM = 20.00 MT.

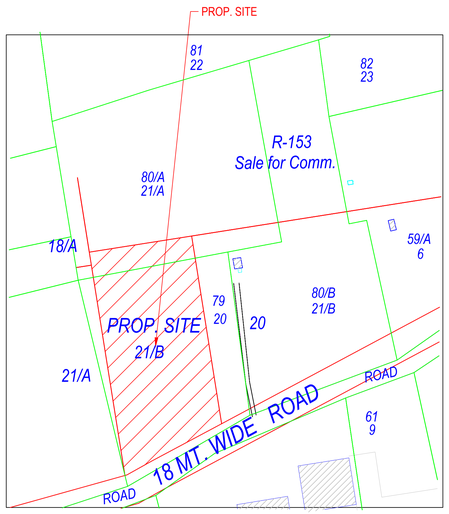

KEY PLAN (AS PER PROP. PRELIMINARY T.P.)
SCALE: 1 CM = 20.00 MT.

Buildingwise Floor FSI Details

Floor Name	Building Name A (COTTAGE)		Total	
	Proposed Built Up Area (Sq.mt.)	Proposed FSI Area (Sq.mt.)	Total Proposed Built Up Area (Sq.mt.)	Total FSI Area (Sq.mt.)
Parking Floor	151.30	0.00	151.30	0.00
First Floor	151.30	83.25	151.30	83.25
Second Floor	151.30	83.25	151.30	83.25
Third Floor	151.30	83.25	151.30	83.25
Fourth Floor	151.30	83.25	151.30	83.25
Fifth Floor	151.30	83.25	151.30	83.25
Terrace Floor	58.68	0.00	58.68	0.00
Total:	966.48	416.25	966.48	416.25

FSI & Tenement Details

Building	No. of Same Bldg	Total Built Up Area (Sq.mt.)	Deductions (Area in Sq.mt.)					Proposed FSI Area (Sq.mt.)	Total FSI Area (Sq.mt.)	No. of Unit
			StairCase	Lift	Lift Machine	Lift Lobby	Parking	Resi.		
A (COTTAGE)	1	966.48	369.04	35.76	5.96	46.90	92.63	416.25	416.25	01
Grand Total :	1	966.48	369.04	35.76	5.96	46.90	92.63	416.25	416.25	01

Required Parking

Building Name	Type	SubUse	Area	Units		Required Parking Area(Sq.mt.)	Car
				Reqd.	Prop.		
A (COTTAGE)	Residential	Cottage Industry	100 - 300	1	1	151.30	13.75	13.75
			> 300.0	100				
	Total:					13.75	13.75

Parking Check (Table 7b)

Use Type	Car				Total Parking Area			
	Area		No.		Area		No.	
	Reqd.	Prop.	Reqd.	Prop.	Reqd.	Prop.	Reqd.	Prop.
Residential	13.75	90.90	1	0	13.75	90.90	-	-
Total	13.75	90.90	1	0	13.75	90.90	-	-

Building USE/SUBUSE Details

Building Name	Building Use	Building SubUse	Building Use Group	Building Type	No Of Residential Units	Floor Name	Floor Use	Floor SubUse	FSI Name	FSI Use	FSI SubUse
A (COTTAGE)	Residential	Cottage Industry	Dwelling-2 (DW2)		1	PARKING FLOOR PLAN	Parking	Parking	-	-	-
						FIRST FLOOR PLAN	Residential	Cottage Industry	Residential FSI	Residential	Cottage Industry
						TYPICAL - SECOND, 3, 4, 5 FLOOR PLAN	Residential	Cottage Industry	Residential FSI	Residential	Cottage Industry
						TERRACE FLOOR PLAN	Staircase + Lift	Staircase + Lift	-	-	-

Layout Approved Details

Layout Approved	Common CP Provided	Common Parking Provided	Sanction Date	Sanction No.
Yes	Yes	Yes	11/8/2023	002LD23240335

Tree Details (Table 3h)

Plot	Name	Nos Of Trees	
		Reqd	Prop
PLOT	Tree	8	5

SCHEDULE OF WINDOW/VENTILATION:

BUILDING NAME	NAME	LENGTH	HEIGHT	NOS
A (COTTAGE)	V	0.60	1.00	05
A (COTTAGE)	W1	2.40	1.20	15

SCHEDULE OF DOOR:

BUILDING NAME	NAME	LENGTH	HEIGHT	NOS
A (COTTAGE)	D2	0.75	2.10	10
A (COTTAGE)	D1	0.90	2.10	10

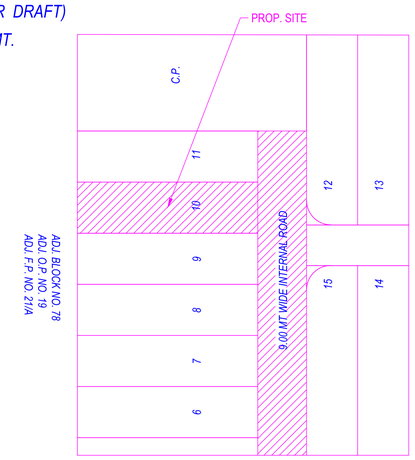

SITE PLAN
(SCALE:-1CM = 5 MT.)

UnitBUA Table for Building :A (COTTAGE)

Floor	Name	UnitBUA Type	Gross UnitBUA Area	Deductions From Gross UnitBUA(Area in Sq.mt.)			UnitBUA Area	Deductions (Area in Sq.mt.)		RERA Carpet Area	No. of Unit
				Lift				Wall	Stair Case		
FIRST FLOOR PLAN	SPLIT 1	FLAT	151.30		15.33	135.97	151.30	14.75	52.72	68.50	01
		Total :	151.30		15.33	135.97	151.30	14.75	52.72	68.50	01
	Total per Floor:	Typical Floor = 1									
		Total :	151.30		15.33	135.97	151.30	14.75	52.72	68.50	01
TYPICAL - SECOND, 3, 4, 5 FLOOR PLAN	SPLIT 1	FLAT	151.30		15.33	135.97	151.30	14.75	52.72	68.50	00
		Total :	151.30		15.33	135.97	151.30	14.75	52.72	68.50	00
	Total per Floor:	Typical Floor = 4									
		Total :	605.20		15.33	543.88	59.00	210.88	274.00	00	
Total :			756.50		15.33	679.85	61.25	225.63	326.50	01	

Staircase Checks (Table 8a-1)

Floor Name	StairCase Name	Flight Width	Tread Width	Riser Height
PARKING FLOOR PLAN	STAIRCASE	1.20	0.30	0.17
	STAIRCASE	1.20	0.00	0.17
FIRST FLOOR PLAN	STAIRCASE	1.20	0.30	0.17
	STAIRCASE	1.20	0.00	0.17
TYPICAL - SECOND, 3, 4, 5 FLOOR PLAN	STAIRCASE	1.20	0.30	0.17
	STAIRCASE	1.20	0.00	0.17
TERRACE FLOOR	STAIRCASE	1.20	0.30	0.00
	STAIRCASE	1.20	0.00	0.00

Building :A (COTTAGE)

Floor Name	Total Built Up Area (Sq.mt.)	Deductions from FSI(Area in Sq.mt.)					Proposed FSI Area (Sq.mt.)	Total FSI Area (Sq.mt.)	No. of Unit
		StairCase	Lift	Lift Machine	Lift Lobby	Parking	Resi.		
Parking Floor	151.30	52.72	5.96	0.00	0.00	92.63	0.00	0.00	00
First Floor	151.30	52.72	5.96	0.00	9.38	0.00	83.25	83.25	01
Second Floor	151.30	52.72	5.96	0.00	9.38	0.00	83.25	83.25	00
Third Floor	151.30	52.72	5.96	0.00	9.38	0.00	83.25	83.25	00
Fourth Floor	151.30	52.72	5.96	0.00	9.38	0.00	83.25	83.25	00
Fifth Floor	151.30	52.72	5.96	0.00	9.38	0.00	83.25	83.25	00
Terrace Floor	58.68	52.72	0.00	5.96	0.00	0.00	0.00	0.00	00
Total:	966.49	369.04	35.76	5.96	46.90	92.63	416.25	416.25	01
Total Number of Same Buildings:	1								
Total :	966.49	369.04	35.76	5.96	46.90	92.63	416.25	416.25	01

NOTES:-
(A) Development permission is granted only for cottage industries / cottage industries (for Handloom & Handicrafts purpose only as per Cottage & Rural Industries Policy 2016 of Commissioner Cottage and Rural Industries, Industries and Mines Department, Government of Gujarat).
(B) Necessary approval of the Commissioner, Cottage and Village Industries Account, Industries and Mining Department, Government of Gujarat shall be obtain and Necessary approval of the competent authority for construction/use at the place shall be taken as per the rules and policies applicable to Cottage Industries / Cottage Industry of the Govt.
(C) This permission is not granted for Textile industry or other industry purposes with mechanical/power machinery
(D) The details of the undertaking submitted by the applicant regarding the cottage industry shall be binding.

OWNER'S NAME AND SIGNATURE	
Rekhaben Pravinbhai Shiroya and Others	
ARCHENG'S NAME & SIGNATURE	STRUCTURE ENGINEER
NILESHKUMAR MAGANBHAI VORA 002ERH31012801468	
SUPERVISOR'S NAME & SIGNATURE	DATE OF VERIFICATION 27/06/2026
TOWN PLANNER	
DESIGNATION OF APPROVER :	

Grant of the permission is subject to the conditions mentioned in the permission letter. Permission letter and approved Plan PDF can be downloaded by scanning the QR code.

ISO_A0_(841.00_x_1189.00_MM)

Based on the aforesaid permission the applicant reserves the rights to commence the construction from the day of issuance. Nevertheless; in case, for procuring the aforesaid permission, any document or system configuration for rules or information or parameters or drawings provided or attached is found to be incorrect or inconsistent with respect to prevailing bye-laws, by any authority or otherwise, the permission granted shall be considered as lapsed.Accuracy of Scrutiny Report and Drawing is subject to accuracy of end-user provided data, 3rd party software/hardware/services, etc. SoftTech Engineers Ltd. is not liable for any damages which may arise from use, or inability to use the Application.Contents highlighted in magenta color are not verified.Texts printed in 'Italics' and 'Blue' color are user inputs, which are not verified and not generated by scrutiny software.